Basic 3D Profiling of Mining Exploration Site

Orientation: North is in direction of middle-right
Scale: 3D perspective view – not to scale



Orientation: North is in direction of middle-right
Scale: 3D perspective view – not to scale

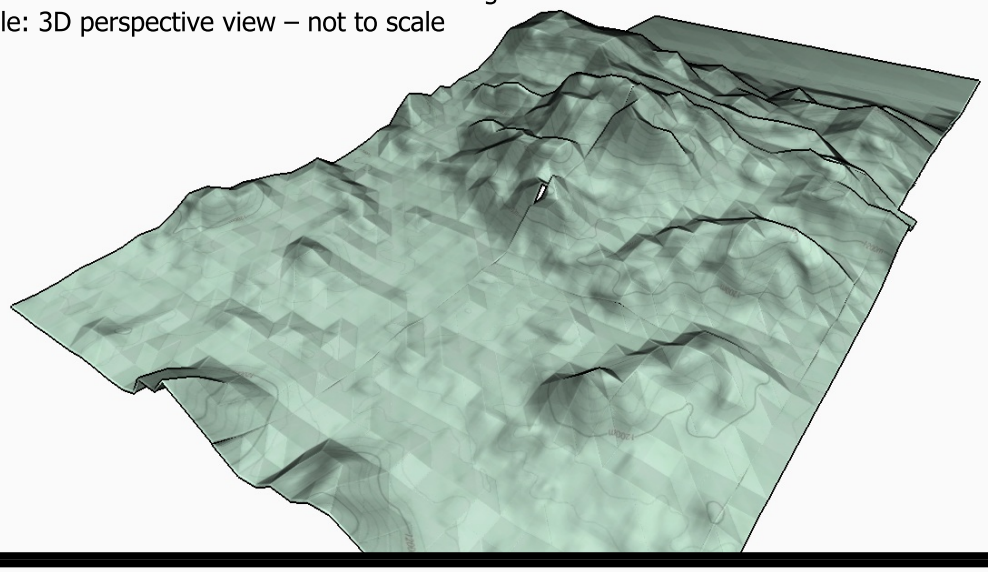

Orientation: North is in direction of middle-right
Scale: 3D perspective view – not to scale

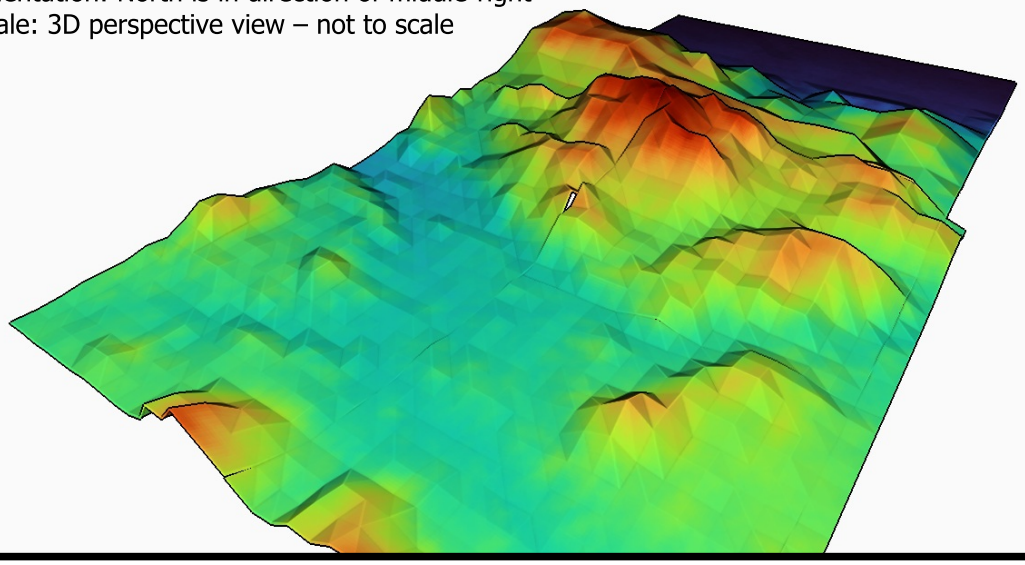

Developed by: Lenga Maps
Lead Scientist & Engineer: Mulenga Chilufya
Software: QGIS 3.40.4 | Canva |