Boundary Area Mapping - Mining Exploration Site

Area: 101 Hectares | 1007429 Squared Metres

Scale - 1:15000

0 250 500 m

N N

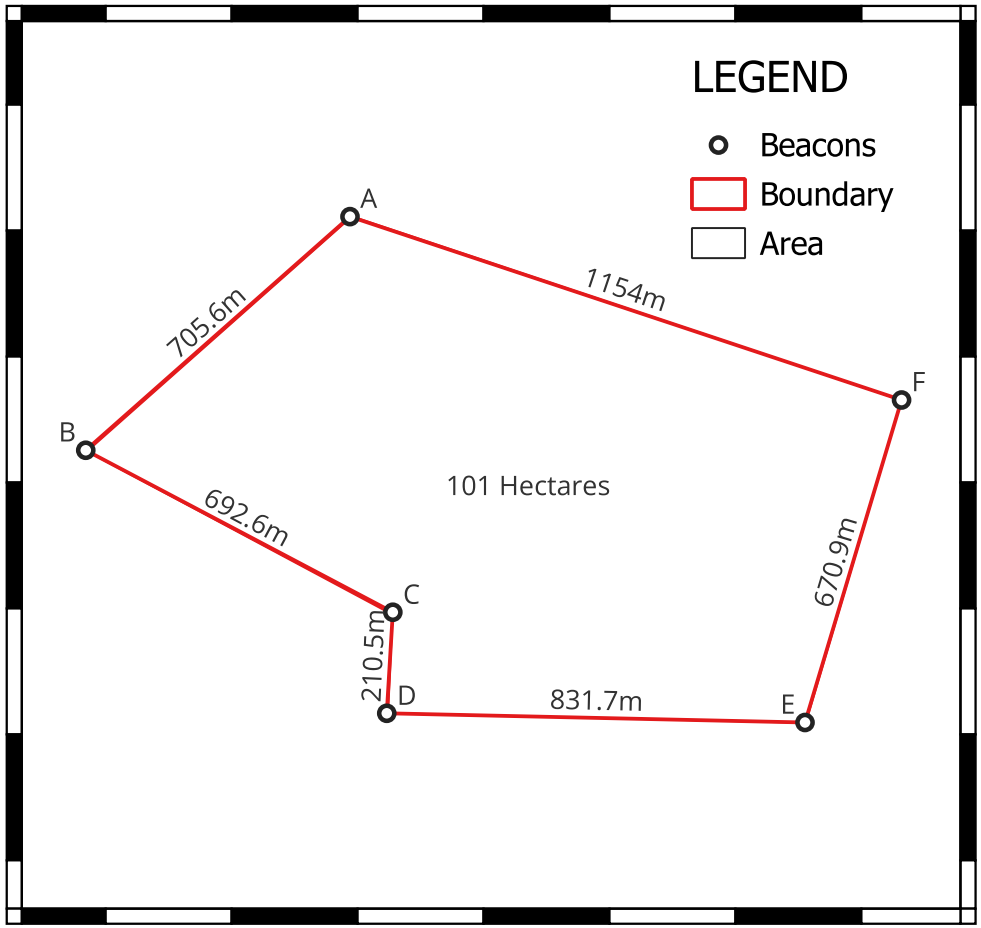

Coordinate System In
WGS84 | UTM Zone 35S

Reference Point: B
Easting: 422234.861
Northing: 8619315.302

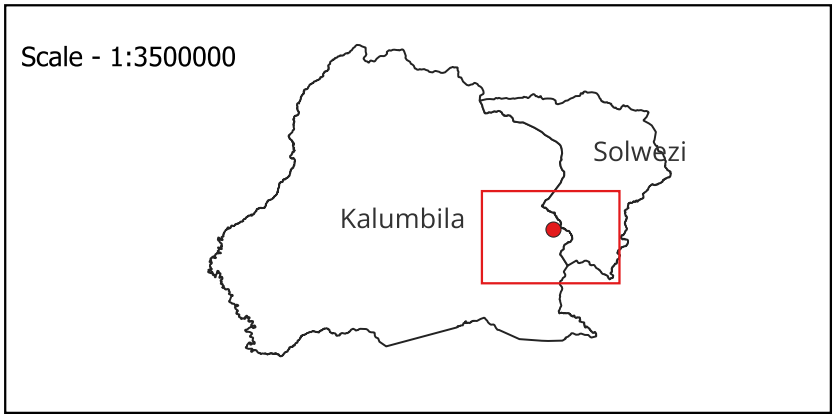

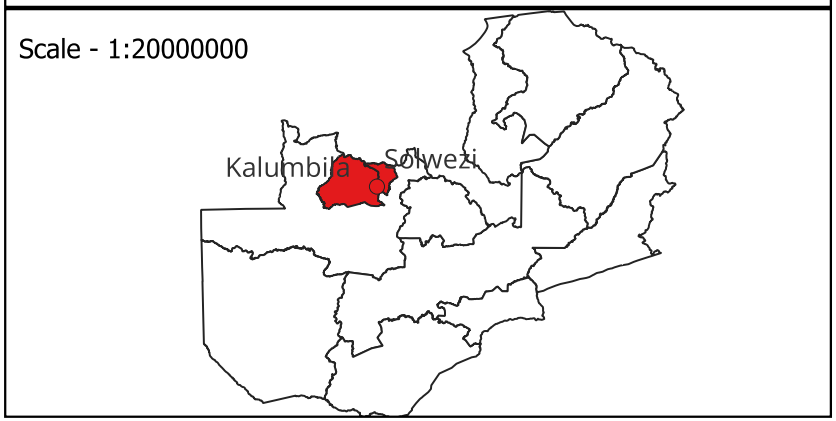

Disclaimer: The beacons visualized in this map are for illustrative purposes only and are in no way linked to real land ownership or exploration rights.

Developed by: Mulenga Chilufya
Lead Engineer & Scientist: Lenga Maps